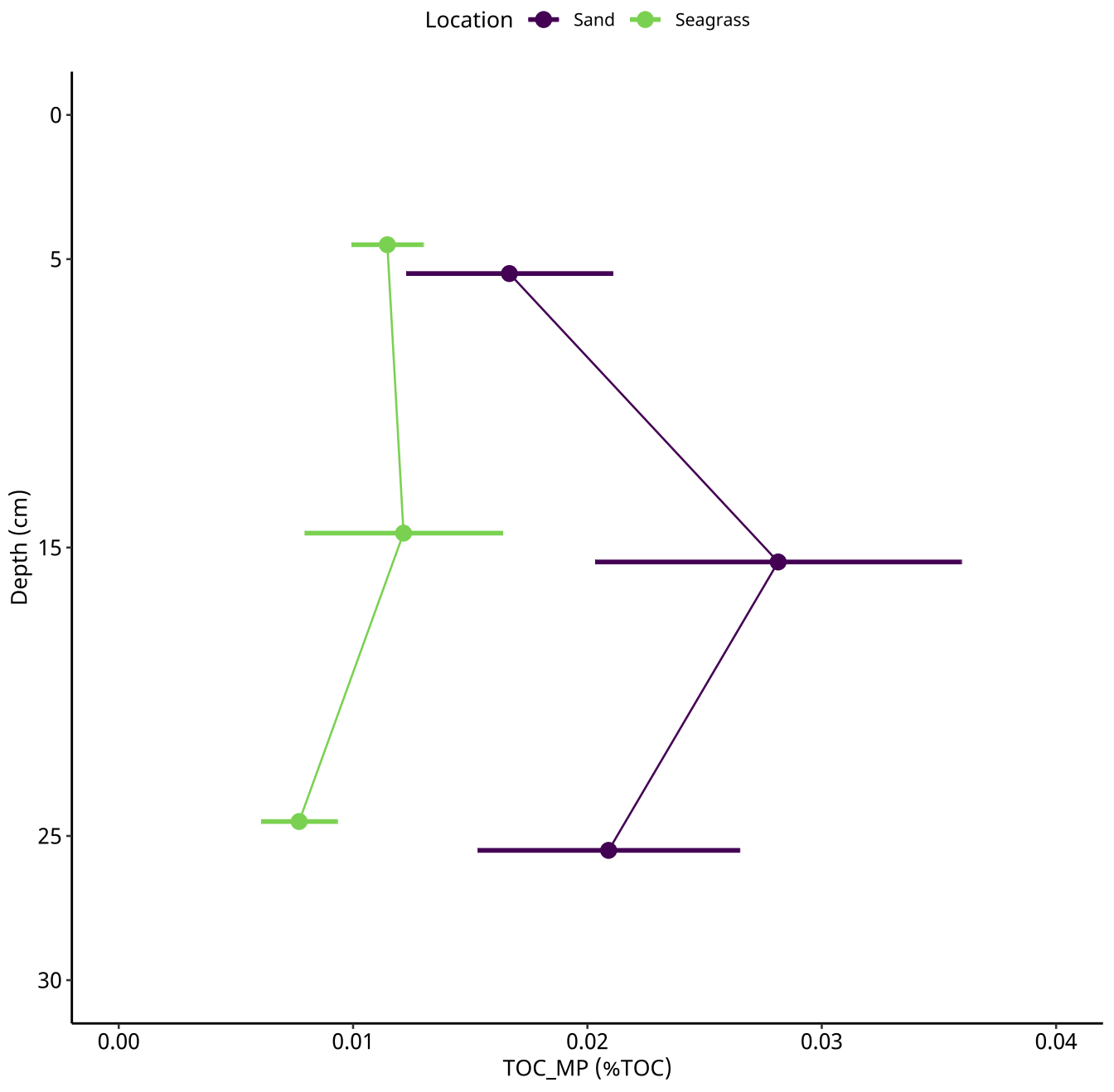
Location
Sand
Seagrass
Depth (cm)
0
5
15
25
30
0.00
0.01
0.02
0.03
0.04
TOC_MP (%TOC)

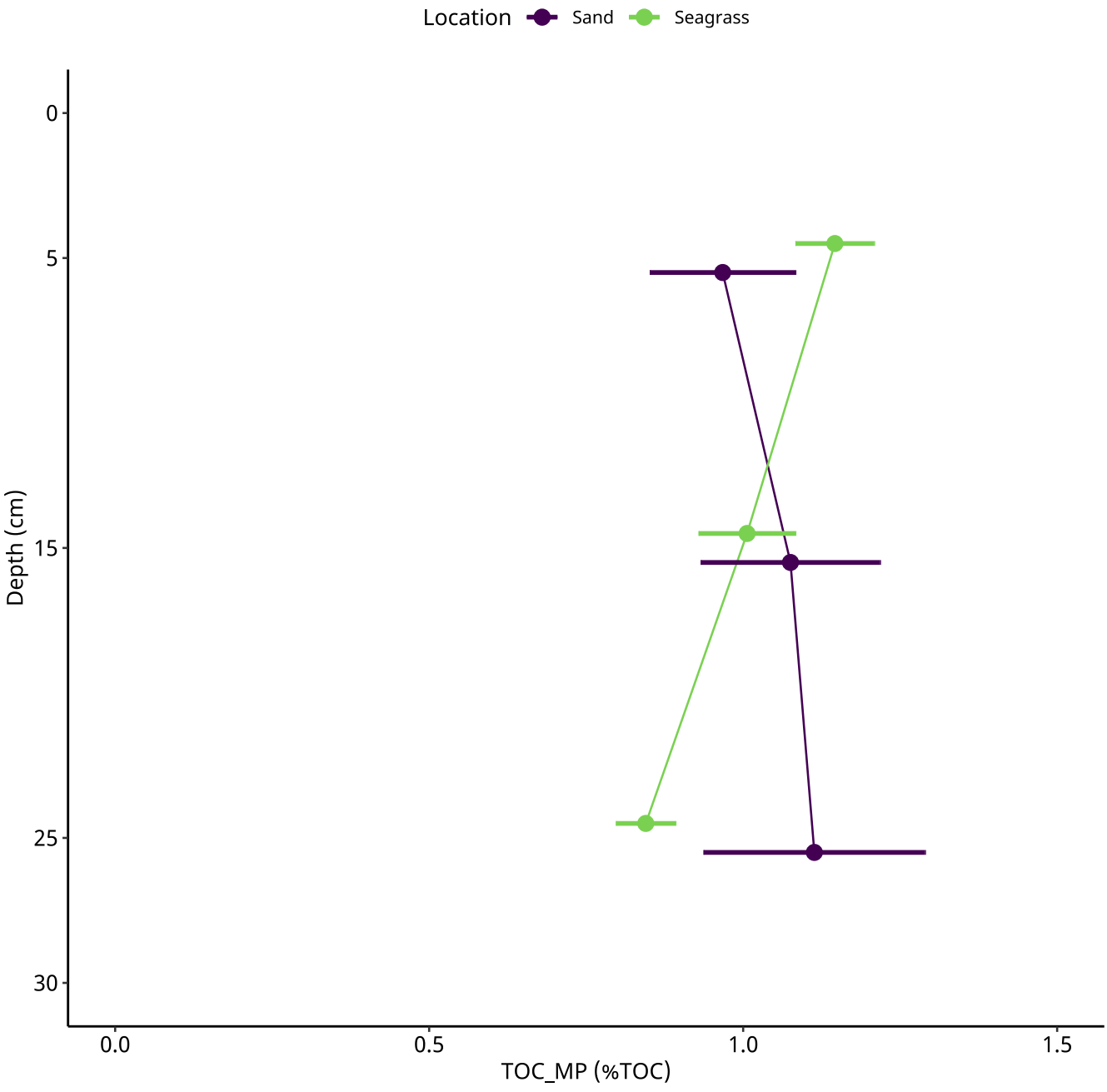
Location
Sand
Seagrass
Depth (cm)
0
5
15
25
30
0.0
0.5
1.0
1.5
TOC_MP (%TOC)

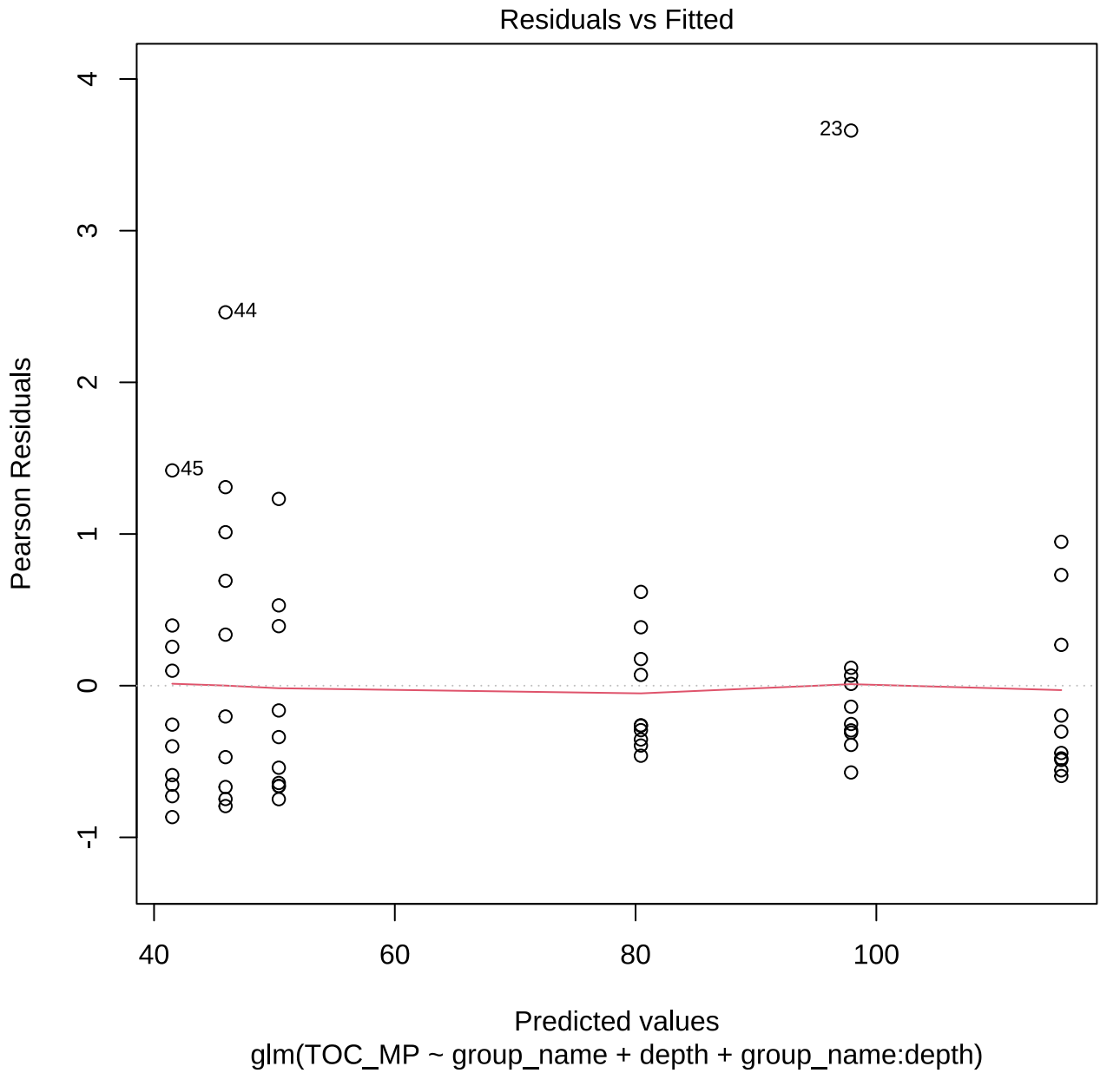
Residuals vs Fitted
Pearson Residuals
Predicted values
glm(TOC_MP ~ group_name + depth + group_name:depth)
23
44
45
4
3
2
1
0
-1
40
60
80
100

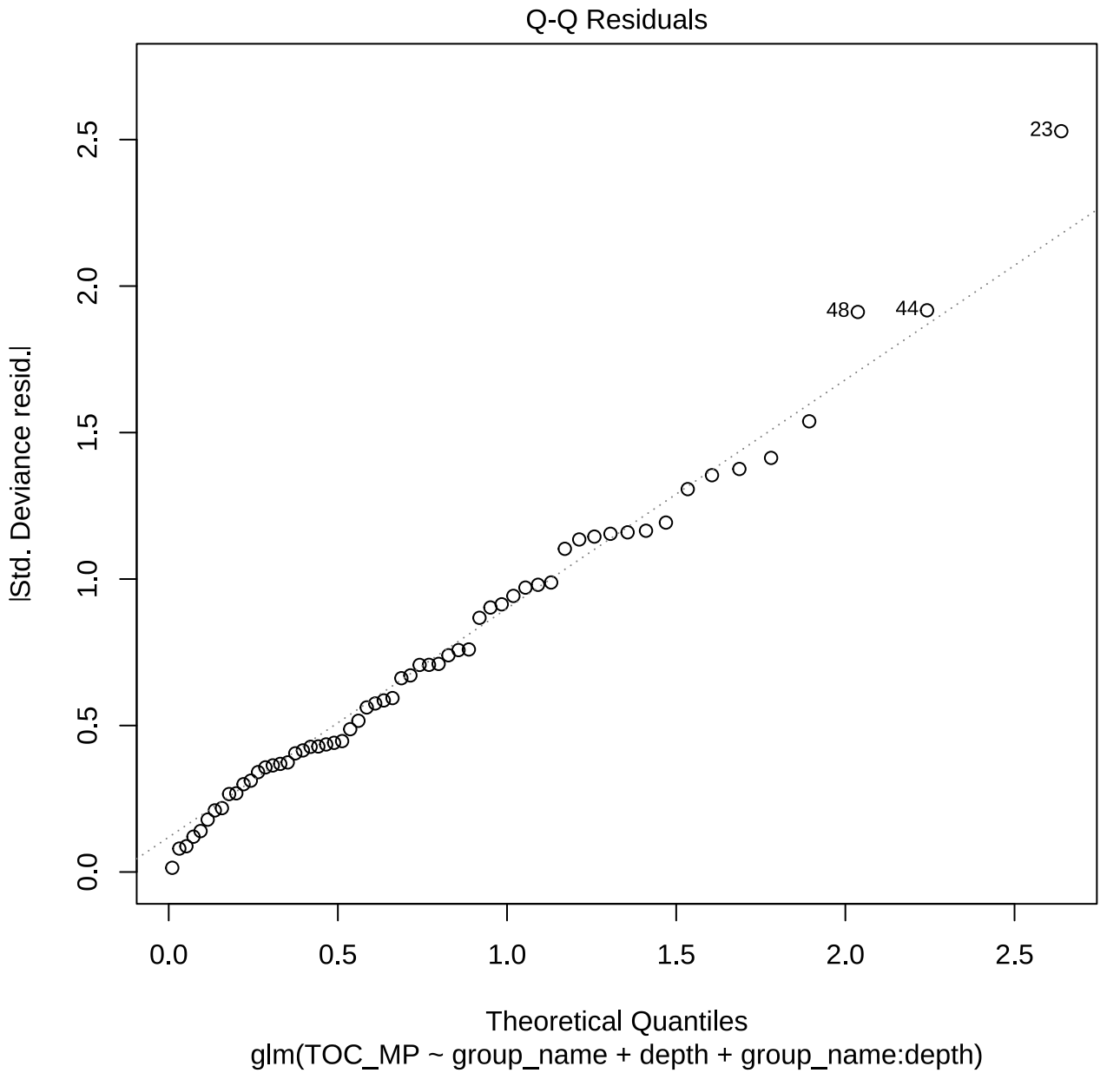
Q-Q Residuals
|Std. Deviance resid.|
0.0
0.5
1.0
1.5
2.0
2.5
23
48
44
Theoretical Quantiles
glm(TOC_MP ~ group_name + depth + group_name:depth)

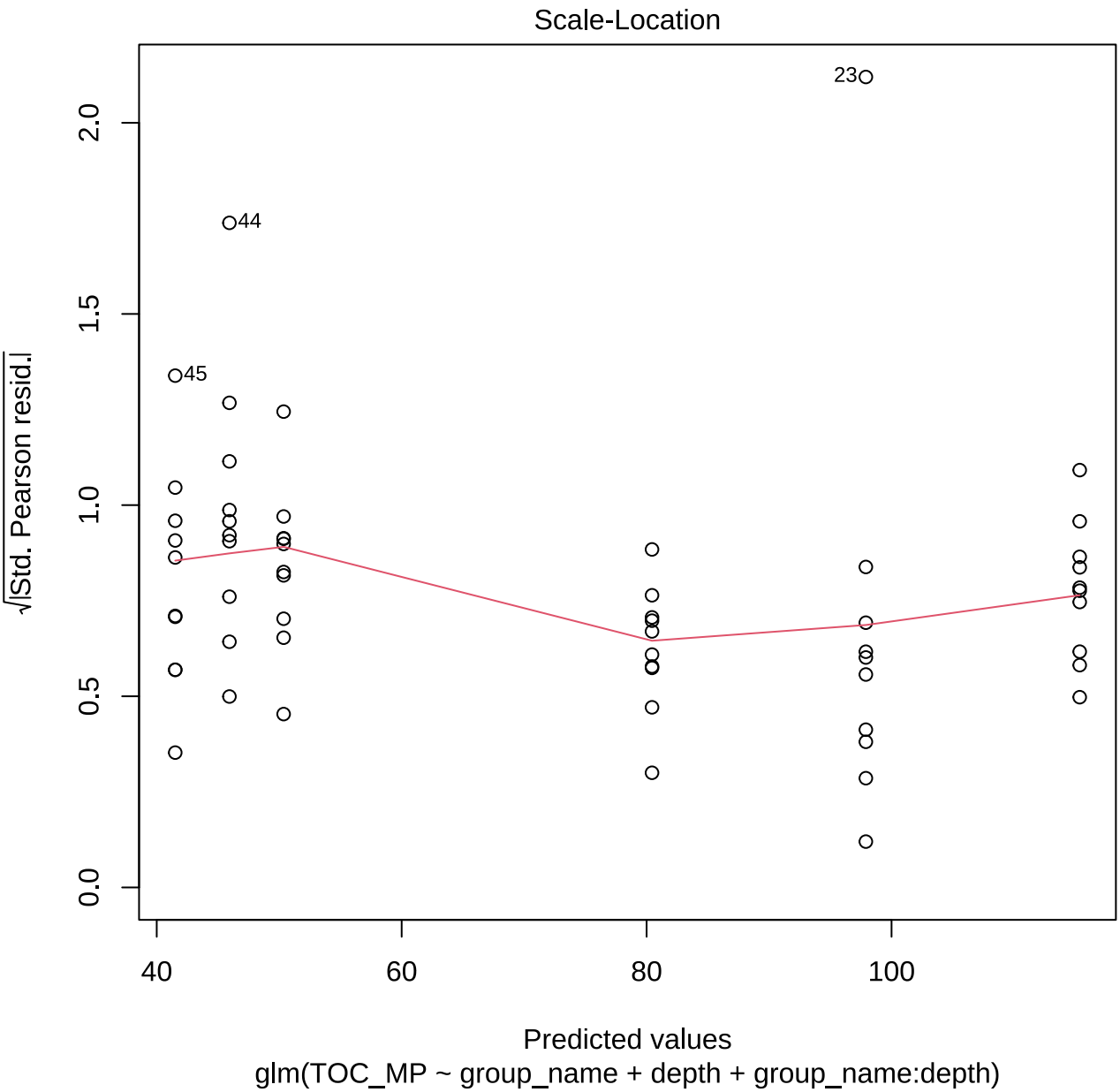
Scale-Location
23
44
45
2.0
1.5
1.0
0.5
0.0
√|Std. Pearson resid.|
40
60
80
100
Predicted values
glm(TOC_MP ~ group_name + depth + group_name:depth)

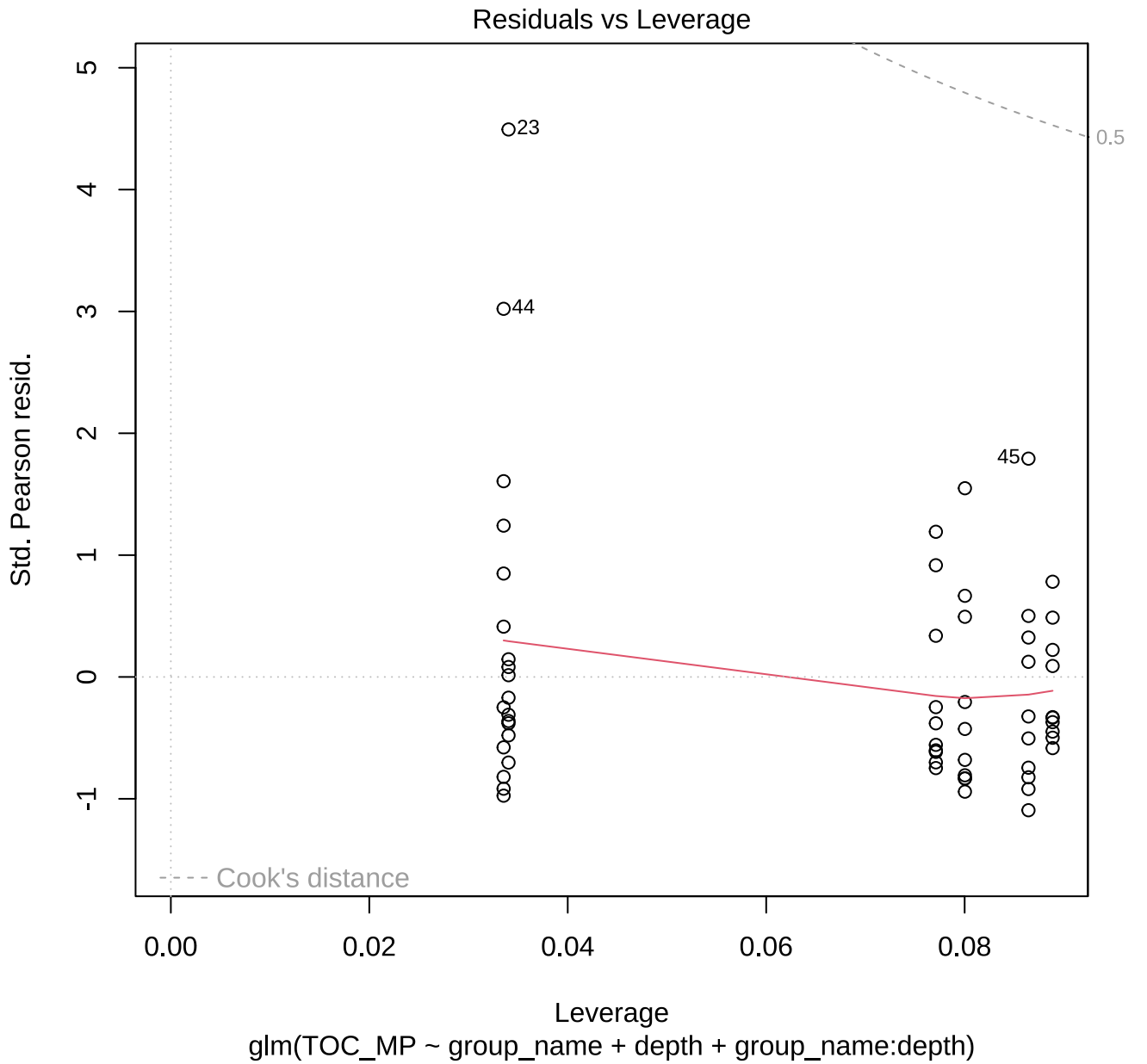
Residuals vs Leverage
Std. Pearson resid.
5
4
3
2
1
0
-1
23
44
45
0.5
Cook's distance
0.00
0.02
0.04
0.06
0.08
Leverage
glm(TOC_MP ~ group_name + depth + group_name:depth)

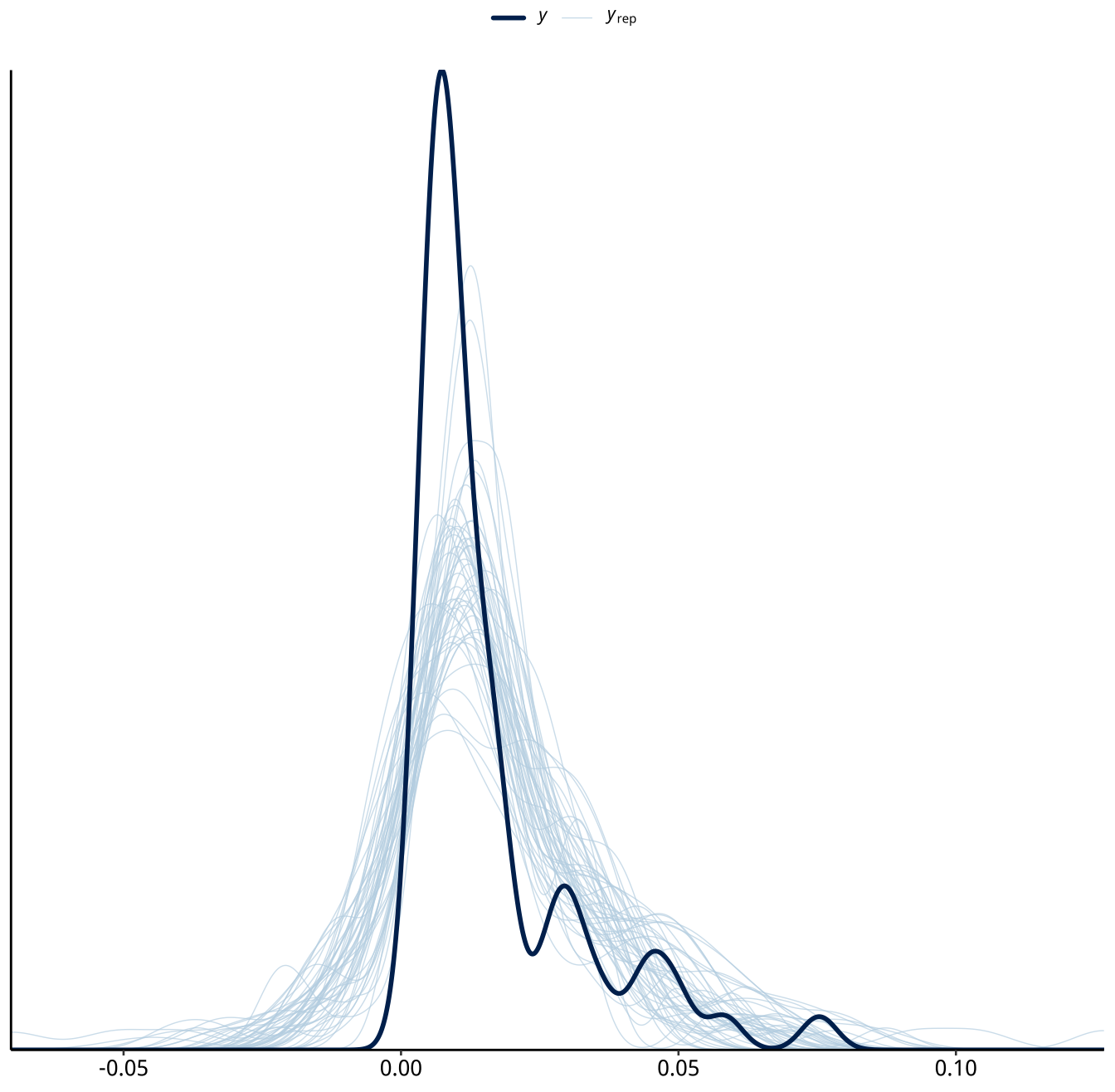
y
y_rep
-0.05
0.00
0.05
0.10

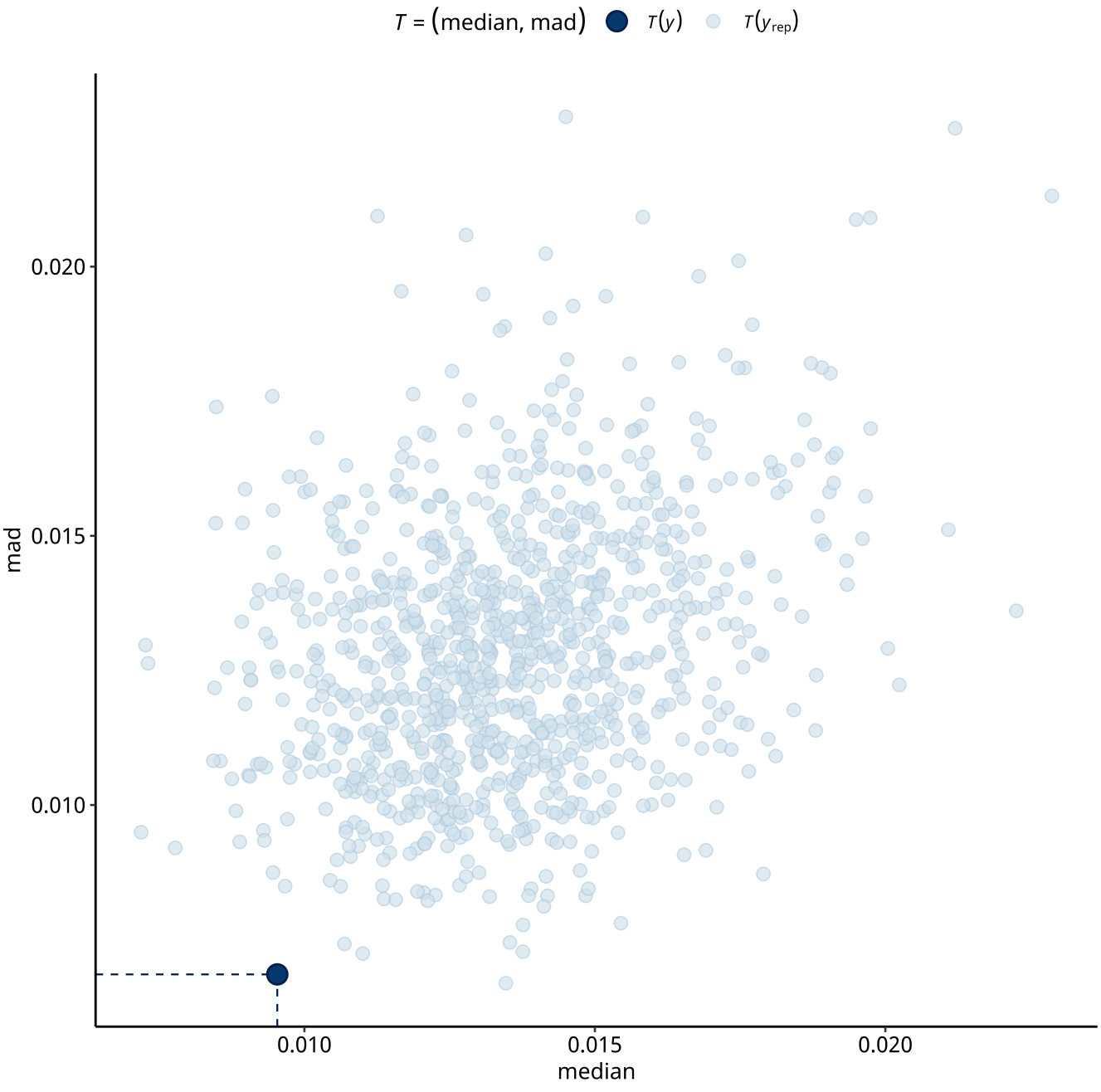
T = (median, mad)
$T(y)$
$T(y_{\text{rep}})$
0.020
0.015
0.010
mad
0.010
0.015
0.020
median

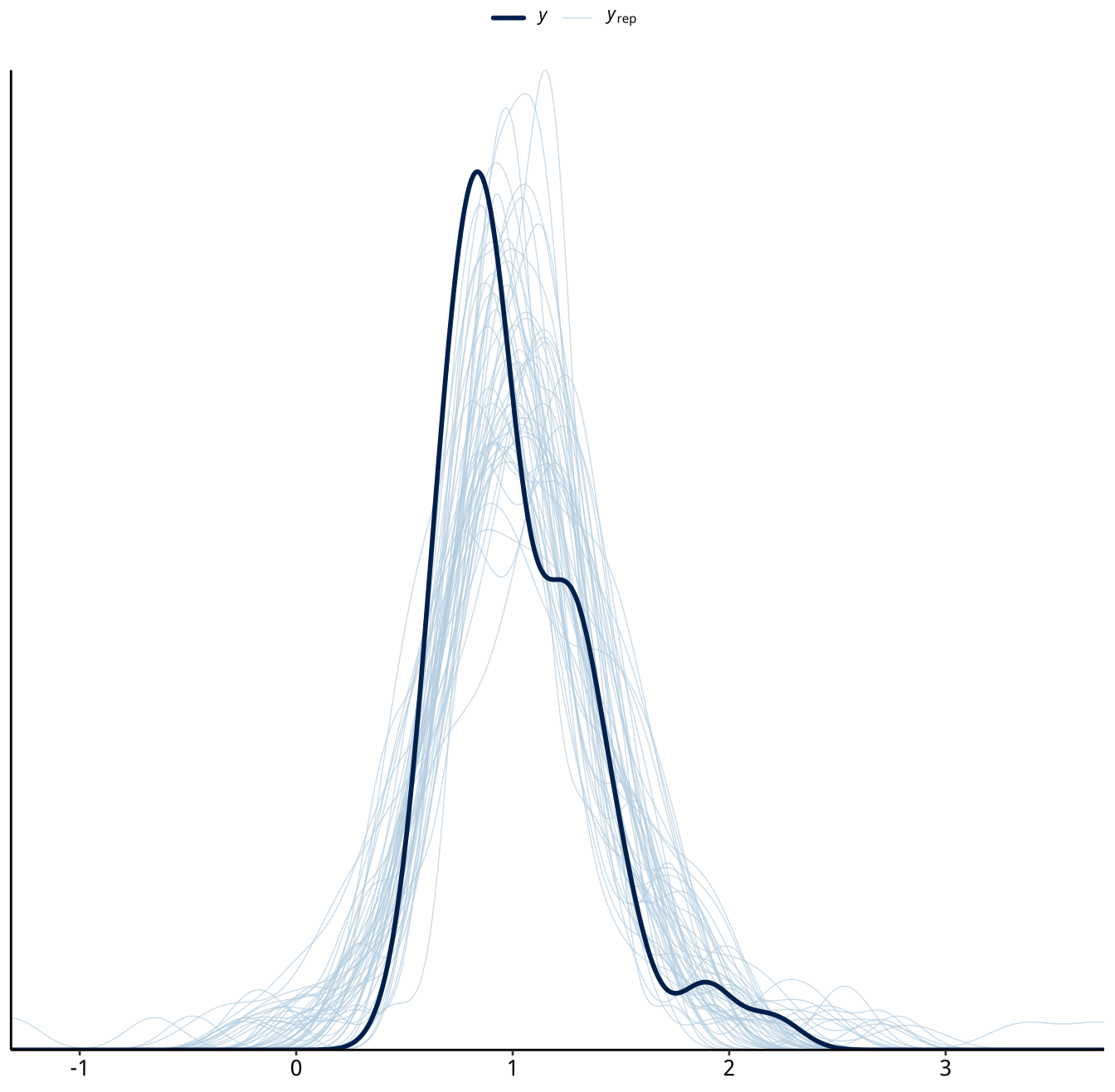
y
y_rep
-1
0
1
2
3

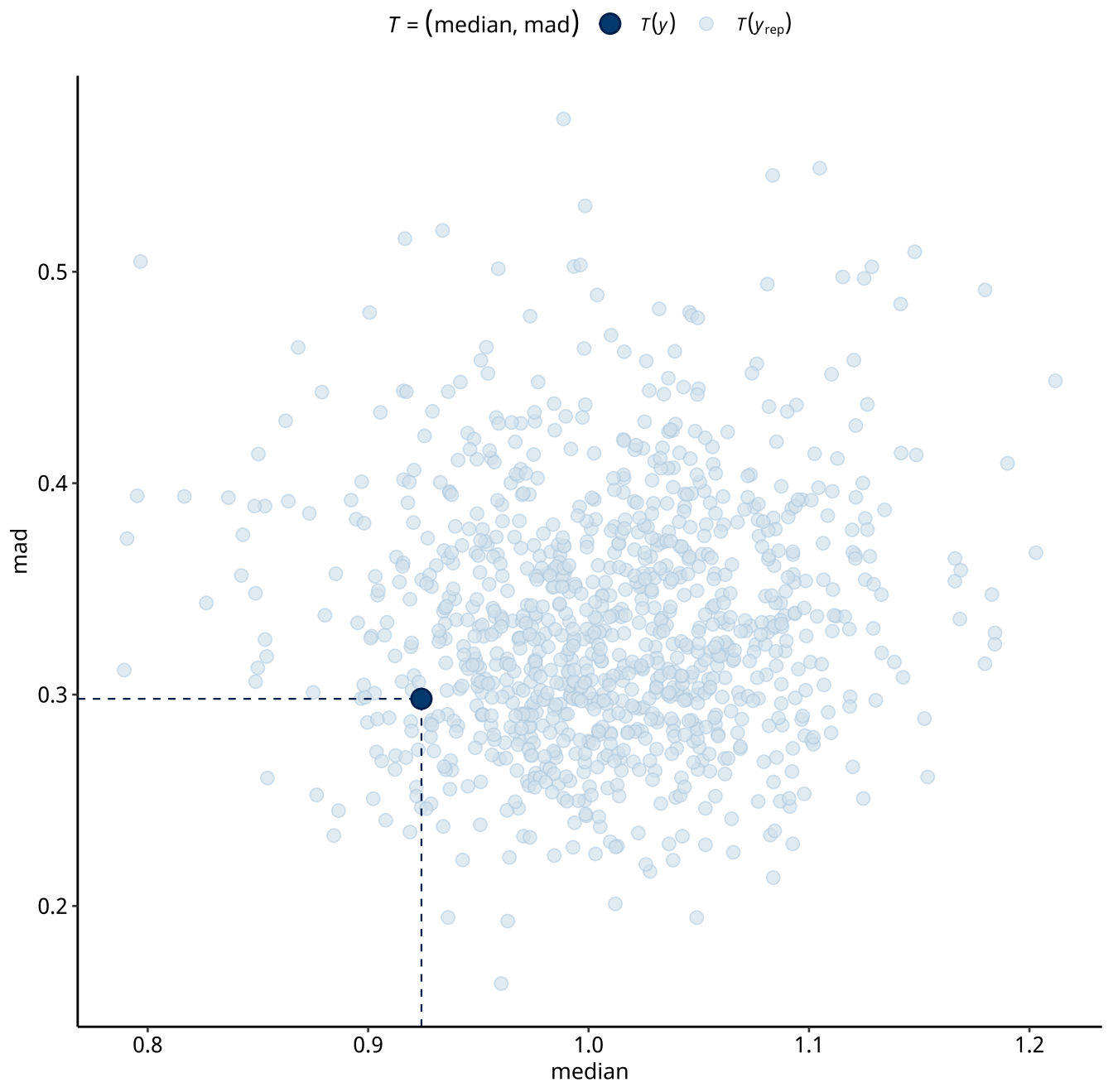
T = (median, mad)
$T(y)$
$T(y_{rep})$
0.5
0.4
0.3
0.2
mad
0.8
0.9
1.0
1.1
1.2
median

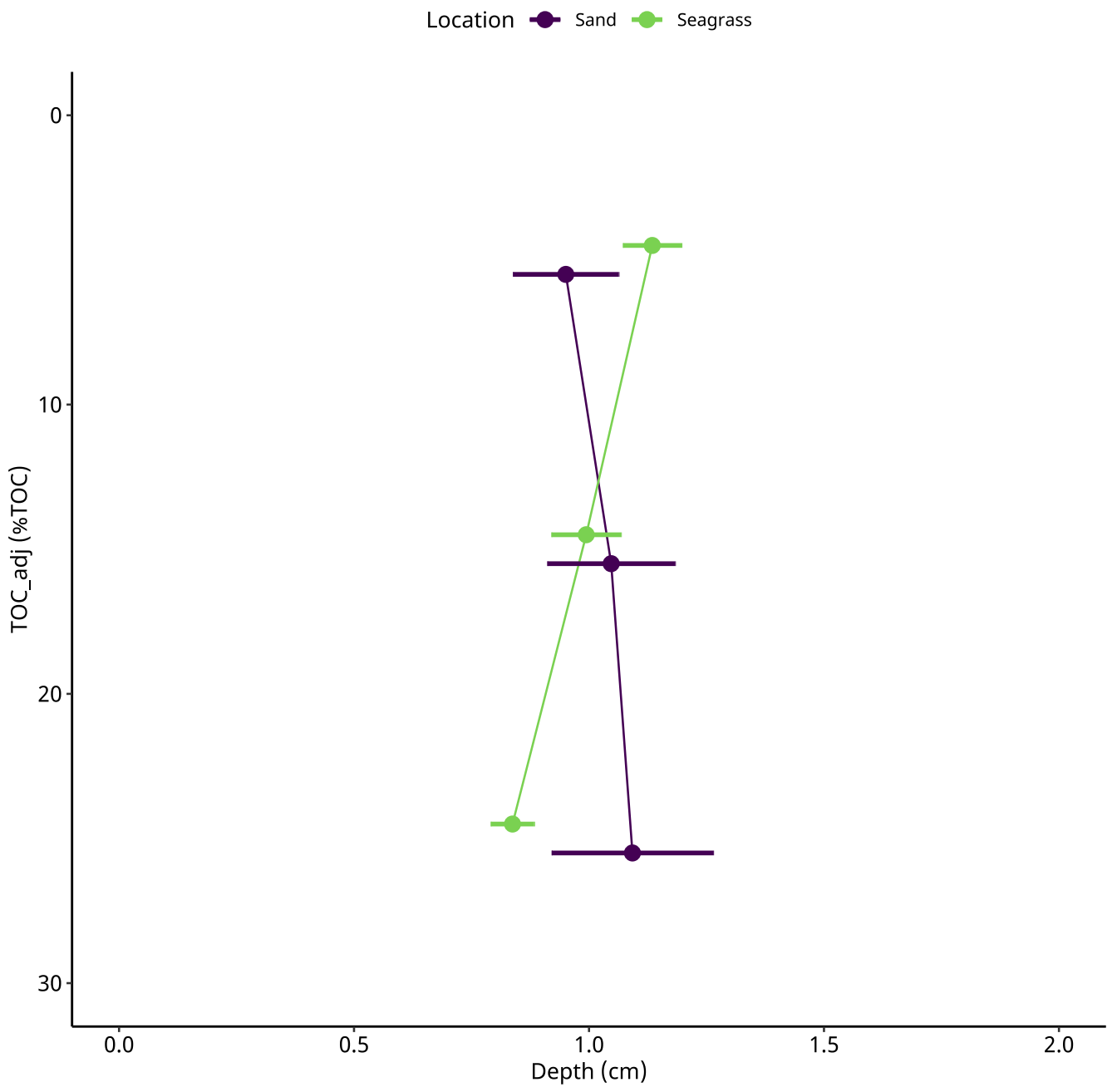
Location
Sand
Seagrass
0
10
20
30
TOC_adj (%TOC)
0.0
0.5
1.0
1.5
2.0
Depth (cm)